A Planetary Calibration Stack for Constrained Intelligence

ChiR-OS



Overview

ChiR-OS is a cross-disciplinary, open framework for modeling how intelligence—human or artificial—operates under planetary constraints.

It unifies three layers:

- Geodetic Codex (Space): where stability and survivability emerge
- Harmonic Clockworks (Time): how Earth's multi-scale systems evolve
- Human Trace Dataset (Observation): what persists across time under those constraints

Together, these layers form a calibration stack that replaces narrative assumptions with measurable structure.

Core Principle

Intelligence does not create planetary structure.
It persists within it.

All models—scientific, cultural, or artificial—must reconcile with:

- gravity
- rotation
- orbital forcing
- hydrology
- cryosphere dynamics
- material limits

Any system that diverges from these constraints may remain internally coherent, but is externally invalid.

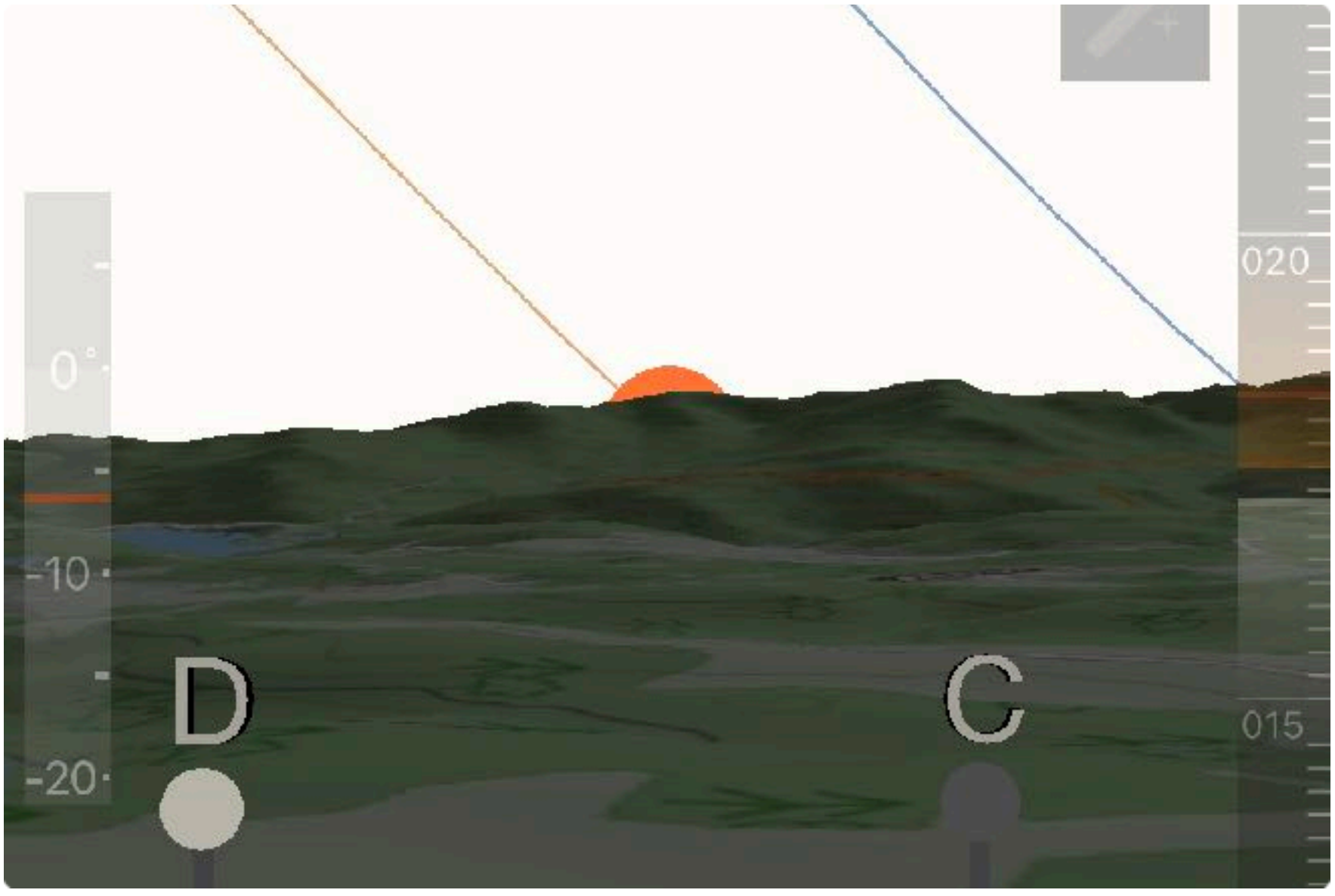

Stack Architecture

1. Geodetic Codex (Spatial Constraint Layer)

Defines where survivability and persistence are physically favored.

Components:

- N–S meridians (e.g., 72.66°W) → stability axes
- E–W bands → energy / climate distribution
- Land bridges & bathymetry → migration corridors
- Isostatic zones → uplift / subsidence cycles
- Conical basins → glacial accumulation & meltwater routing

Output:
A probabilistic field of spatial constraint.

2. Harmonic Clockworks (Temporal Dynamics Layer)

Defines how planetary systems evolve across time.

Clock Mapping:

- Hour hand → orbital forcing (Milankovitch cycles)
- Minute hand → cryosphere (glacial mass balance, melt pulses)
- Second hand → tectonic rupture (rift activation, earthquakes)

Additional Signals:

- PEGS (prompt elastogravity signals)
- Schumann resonances
- Paleomagnetic drift (VGP)

Output:
A phase-aware temporal model of planetary change.

3. Human Trace Layer (Empirical Dataset)

A global record of persistence under constraint.

Tiered Data Sources:

- Tier 0: UNESCO World Heritage sites
- Tier 1: Research-grade archaeology (e.g., ROAD, Open Context)
- Tier 2: National/regional datasets (validated)
- Tier 3: Discovery leads (non-authoritative)

Interpretation:

- Not proof of intent
- Not evidence of hidden networks
- A distributed memory of survivability

Conical Basins & Cryo-Hydrological Corridors

A key extension of the Codex:

> Large-scale human persistence correlates strongly with basin-edge environments shaped by glacial mass balance and meltwater routing.
>
> These regions:
> - concentrate water and nutrients
> - stabilize transport pathways
> - enable material movement (including under high-flow / buoyant conditions)
> - persist across glacial cycles
>
> This provides a mechanical explanation for many large-scale site distributions.

Directional Corridor Framework

We evaluate directional systems as testable coordinate frames, not beliefs:

- Meridian corridors (N–S)
- Energy bands (E–W)
- Circumferential partitions (e.g., 1/5 arc hypotheses)

Each must demonstrate:

- statistical anomaly vs random distribution
- robustness under Monte Carlo simulation
- predictive discovery capability

Failed hypotheses are retained as negative controls.

Predictive Field of Human Persistence

We define a composite field:

P(x) = f(

- corridor proximity
- elevation stability
- hydrological access
- glacial adjacency
- isostatic regime
- basin-edge geometry

)

This field is testable against:

- known site distributions
- randomized controls
- future discovery predictions

"Time dynamics manifest as spatial constraints.
Human persistence maps onto that intersection."

-Glenn Andersen, Research Director
ChiR Labs

Time ↔ Space Mapping

Temporal Layer	Spatial Expression
Orbital forcing	E–W climate bands
Cryosphere	basins & meltwater corridors
Tectonics	meridians & anomaly lines

Submerged Domains & Latent Landmasses

Regions such as Zealandia represent:

- submerged continental structure
- modulated exposure across glacial cycles
- shifting corridors of habitability

These domains are not “missing”—they are phase-shifted by ocean volume and cryosphere state.

Orientation Doctrine (CDI)

All orientation systems are treated as hypotheses:

- No meridian is privileged a priori
- Historical frameworks are priors, not proofs
- All claims require statistical validation

The Codex is a scientific memory system: it records both successful and failed hypotheses.

AI & Intelligence Calibration

ChiR-OS extends beyond Earth science:

Any intelligence system must reconcile with physical constraint or risk divergence from reality.

Applications:

- AI model calibration against physical systems
- anomaly detection grounded in geophysics
- multi-model validation (cross-system coherence)
- long-horizon safety and constraint alignment

dihedralg.github.io

Orbital Forcing & Cryosphere Feedbacks

Root Codex V9 Overview

This module maps Milankovitch pacing (precession, obliquity, eccentricity) to cryosphere growth/retreat, and sets up the analysis for meltwater pulses that prime rift activation and anomaly pairings.

🔍 Objectives

- Quantify relationships between orbital cycles and ice-volume proxies.
- Characterize lead–lag structures between orbital forcing and cryosphere response.
- Identify pulse sequences that correlate with rift initiation and uplift counterweights.

🧠 Key Concepts

- **Precession (≈19–23 kyr)** – seasonal/hemispheric insolation swings; often drives monsoon–ice feedbacks.
- **Obliquity (≈41 kyr)** – high-latitude summer insolation; strong control on ice-sheet mass balance.
- **Eccentricity (≈100/405 kyr)** – amplitude modulator for precession; tied to late-Pleistocene pacing.
- **Amplifiers** – albedo, ocean heat transport, and freshwater routing that sharpen deglaciation pulses.

📦 Data Inputs (placeholders)

- *Orbital solutions*: Laskar La2004/La2010 (eccentricity, obliquity, precession indices).
- *Ice-volume / $\delta^{18}O$ stacks*: LR04, benthic stacks; ice cores (EPICA, GISP2/NEEM) for high-res sections.
- *Deglacial events*: MWP-1A, MWP-1B, Younger Dryas termination markers.
- *Codex layer*: Rift–Cryosphere Timeline (epoch, cap dominance, anomaly pairings).

Replace with actual repository links/DOIs when you stage the analysis notebooks.

🧪 Methods (analysis plan)

1. **Spectral diagnostics**: multitaper/FFT on ice proxies; verify 23/41/100/405 kyr bands.
2. **Cross-correlation**: orbital indices vs. ice proxies to estimate lead–lag (regional & global).
3. **Event alignment**: align meltwater pulses to orbital phase; annotate cap dominance (N vs S).
4. **Coupling to rifts**: join pulse windows to Codex rift entries; test for clustering near anomaly pairings.
5. **Robustness**: bootstrap confidence intervals; shuffle tests against null (phase-scrambled indices).

🗺️ Figures (placeholders)

- Phase wheels: orbital phase → meltwater pulse timing → rift activation markers.
- Hemispheric pie/bar: cap dominance distribution per orbital band.
- Global map: pulses layered on anomaly pairings (from V3/V8 geodesic products).

✅ Outputs

Methodology

- Monte Carlo simulations for spatial validation
- multi-layer dataset integration
- phase-aware temporal modeling
- cross-disciplinary data reconciliation

Why This Matters

This framework:

- removes narrative bias
- preserves scientific rigor
- enables predictive discovery
- bridges human and artificial intelligence

It does not claim hidden intent.
It reveals where reality allows persistence.

Citation

ChiR-OS: A Planetary Calibration Stack for Constrained Intelligence
Part of the Geodetic Codex Framework (V1–V13)

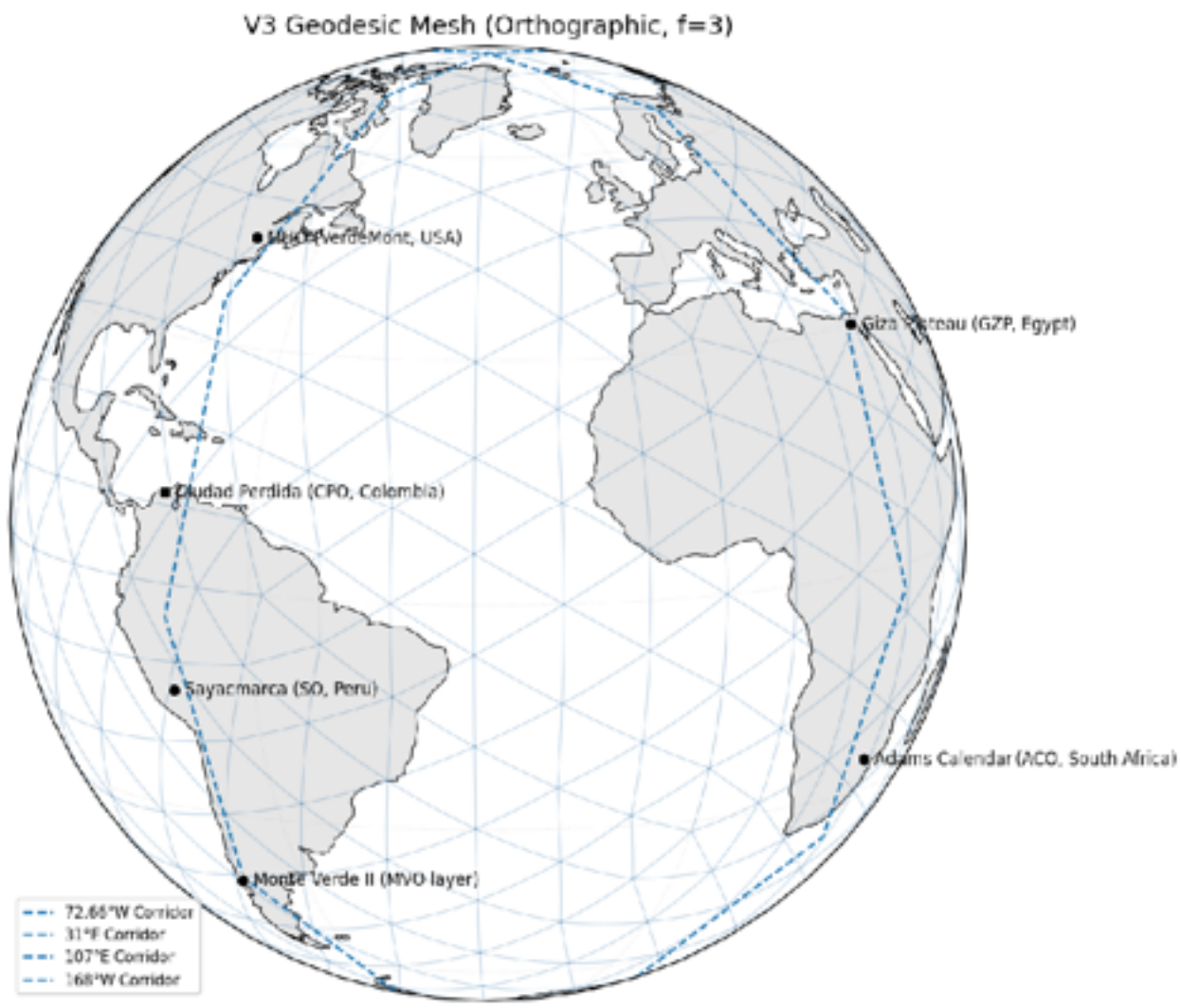

V3-v5- Open Source Calibration Stack

dihedralg.github.io

V3 Overview

- V3.1 & V3.2 research PDFs (statistical and narrative core)
- Walkthrough videos, maps, and overlays
- Version 3.3: Functional Spec - Climatology / Meltwater
- Version 3.4: Functional Spec - Crustal Tectonics
- Version 3.5: Mineralogical Reservoirs — Composition, Distribution, and Harmonic Coupling
- Version 3.6: Functional Spec - Hydrology–Tectonic Coupling
- Version 3.7: Functional Spec - Orbital Mechanics & Long-Cycle Hydrodynamics
- Version 3.8: Functional Spec - Energy Systems
- Version 3.9: Functional Spec - Taxonomy & Intelligence
- Version 3.10: Functional Spec - Extinction Models

▾ **Version 4: Planetary Harmonics, Hydrological Memory, and Resonant Intelligence Layer Details**

V4 Overview: Version 4: Planetary Harmonics, Hydrological Memory, and Resonant Intelligence Layer Details

- V4 (Release Notes) → *New Codex Corridor Nodes Now Statistically Validated as Observatories*
- V4 Kaggle notebook (living model, datasets, scripts)
- V4.1 – Glacial Meltwater Pulse Dynamics
- V4.2 – Harmonic Watershed Resonance
- V4.3 – Subterranean Water & Memory Encoding
- V4.4 – Submerged Vectors & Torsional Release
- V4.5 – Solar Flare Coupling & Quartz Resonance
- V4.6 – Fire, Ice & Meltwater Ignition Systems
- V4.7 – Subterranean Channels and Terraforming Logic
- V4.8 – Bathymetric Inversion & Lost Altitudes
- V4.9 – Phase Transition Reservoirs & Terraforming Echoes
- V4.10 –Quartz Logic & Georesonant Ignition
- V4.11 – Kinetic Tools & Flow-Based Stoneworking
- V4.12 – Crustal Memory & the Georesonant Archive

▾ **V5 — Plasma, Resonance & Advanced Hydrology**

V5 Overview

Planetary Chronometers v2: Lithologic Timing and Deglacial Synchrony Across Quartz-Rich Terrains

- V5.1 — Plasma Fields & Resonant MHD
- V5.2 — Field Memory & Piezoelectric Feedback
- V5.3 — Castles, Aqueducts & Resonant Water Logic
- V5.4 — Glacial Mechanics & Cryogenic Harmonics
- V5.5 — Planetary Terraforming & Polyhedral Portability
- V5.6 — Harmonic AI Systems & Fractal Sync
- V5.7 — Resonant Planetary Ethics & Sovereignty

▾ **V6 — Geosocial Systems & Adaptive Intelligence**

V6 Overview

V6-v13- The current internal dialog in production

dihedralg.github.io

▾ **V6 — Geosocial Systems & Adaptive Intelligence**

V6 Overview

- Datasets & Inputs (stub)
- Methods (stub)

▾ **V7 — Harmonic Infrastructure & Civilization Templates**

V7 Overview

▾ **V8 — Collapse, Rebirth, & Tuning Events**

V8 Overview

▾ **V9 — Tectonic Resonance & Celestial Mechanics**

V9 Overview

- V9.1 — Orientation
- V9.2 — Orbital Forcing → Cryosphere
- V9.3 — Torque → Rifts
- V9.4 — Anomaly Pairing
- V9.5 — VGP Drift & Excursions
- V9.6 — Planetary Analogues
- V9.7 — Forecasting & Risk
- V9.8 — Data Ops
- V9.9 — Peer Review Checklist

▾ **V10 — Symbolic Systems & Archetypal Codex**

V10 Overview

▾ **V11 — Animism, Entheogens & Sonic Mind**

V11 Overview

▾ **V12 — Ritual Protocols & Harmonic Stewardship**

V12 Overview

▾ **V13 — The Harmonic Scriptures**

V13 Overview

Trihedral Modeling: 3 Up; 1 Down

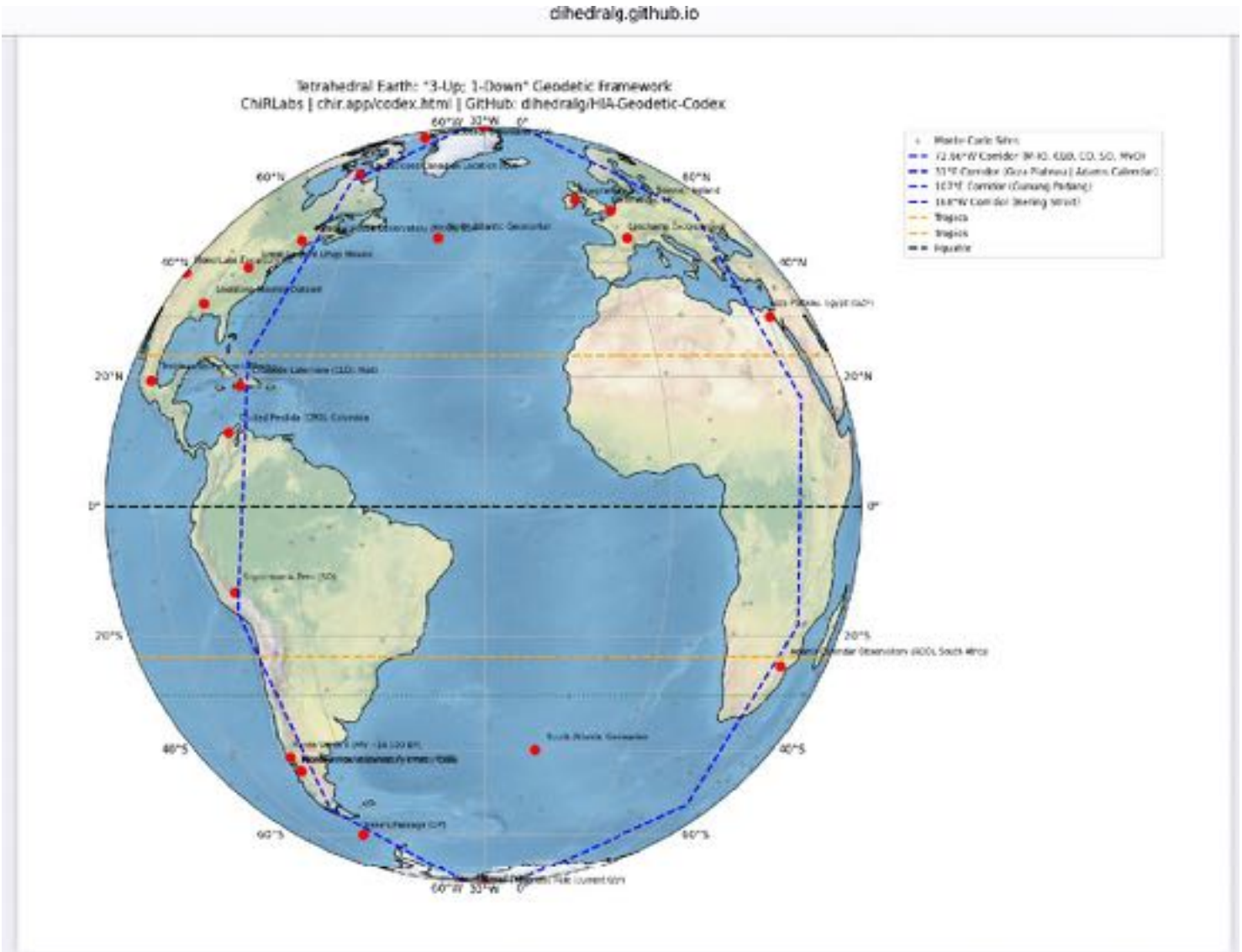

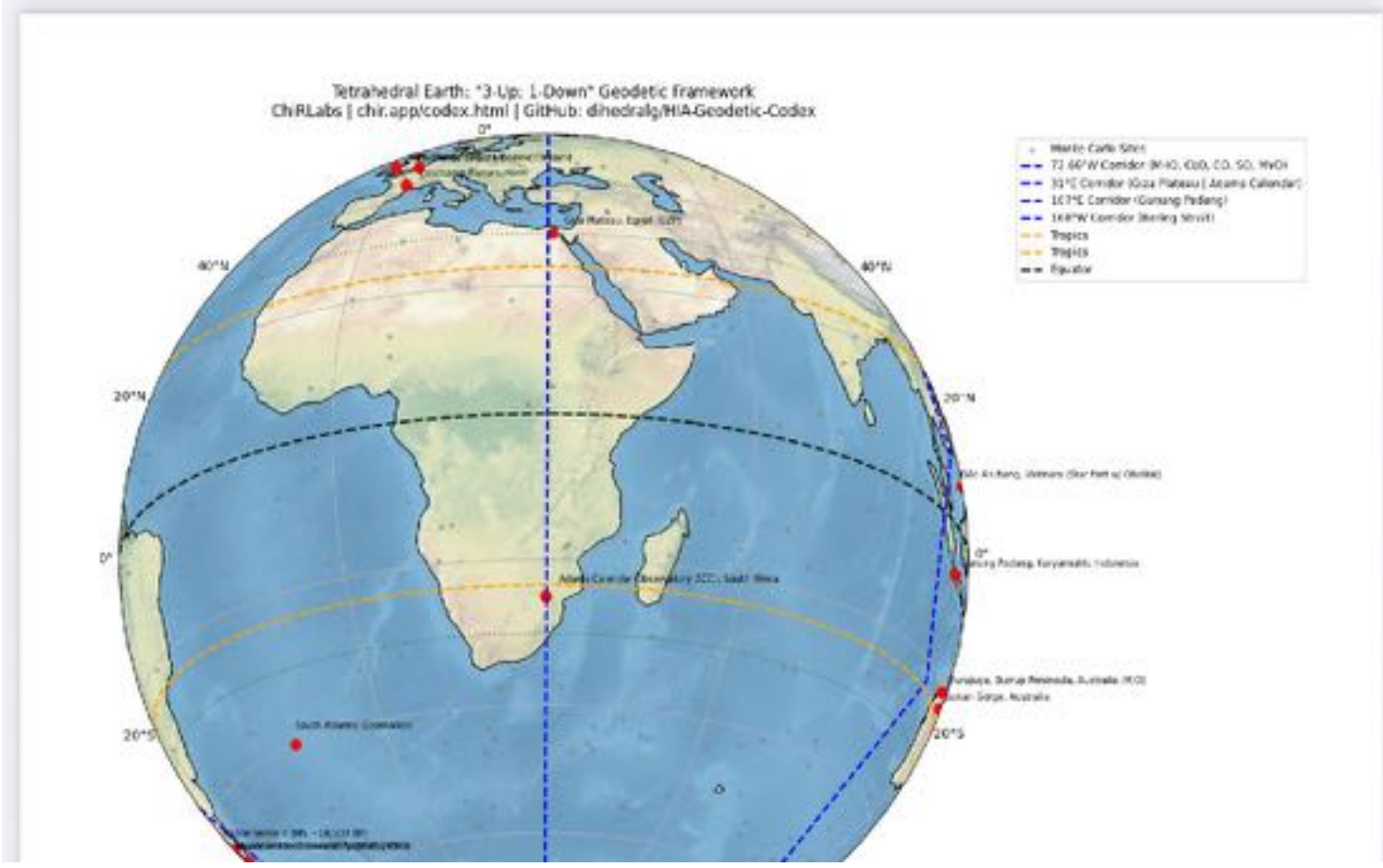

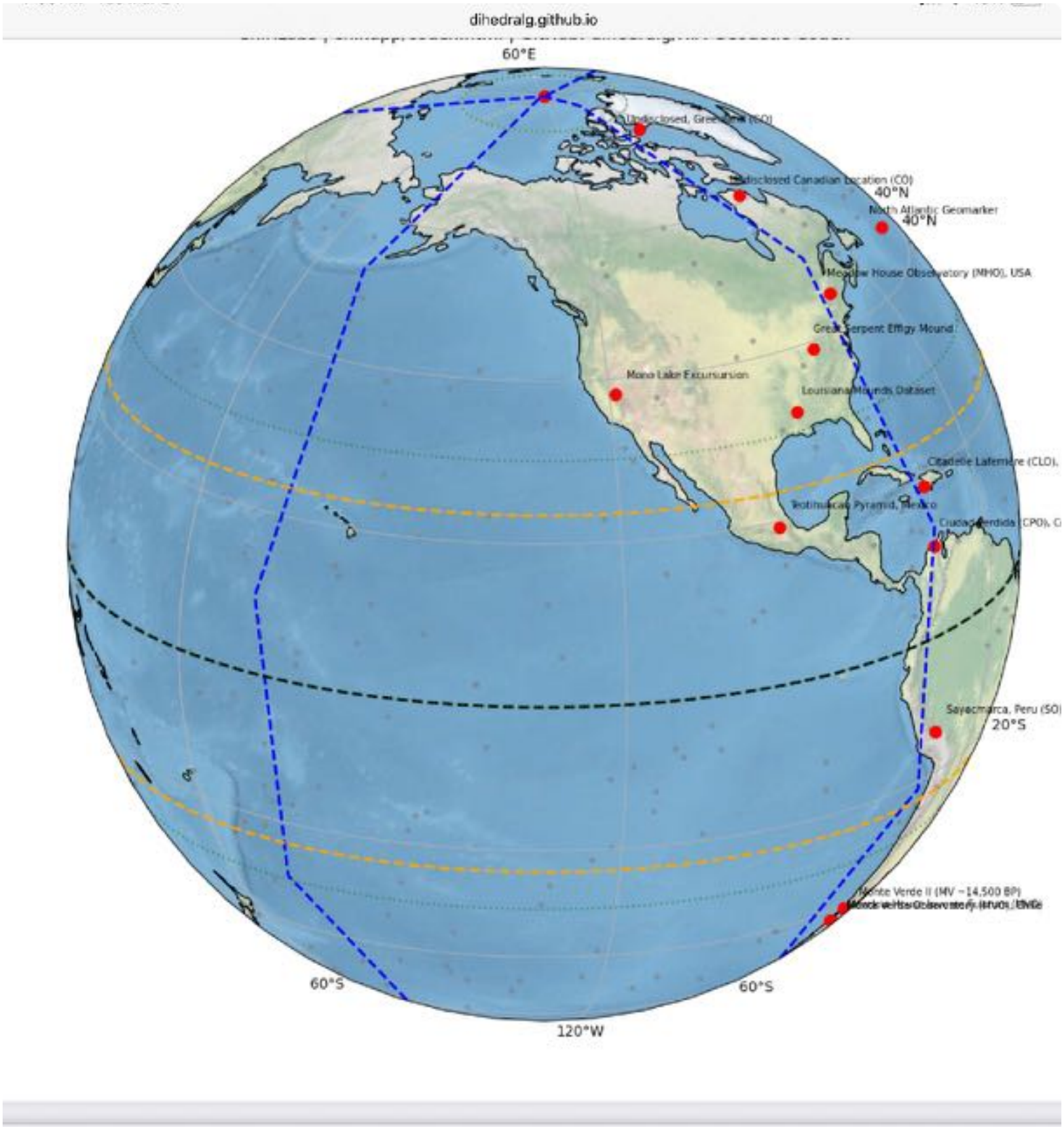
dihedralg.github.io
60°E
Undisclosed Canadian Location (CO)
40°N
North Atlantic Geomarker
40°N
Meadow House Observatory (MHO), USA
Great Serpent Effigy Mound
Mono Lake Excursurion
Louisiana Mounds Dataset
Citadelle Laferrière (CLO),
Teotihuacan Pyramid, Mexico
Sayacmarca, Peru (SO)
20°S
Monte Verde II (MV ~14,500 BP)
60°S
60°S
120°W

Tetrahedral Earth: "3-Up; 1-Down" Geodetic Framework
ChiRLabs | chir.app/codex.html | GitHub: dihedralg/HIA-Geodetic-Codex
120°W
60°N
60°N
Mono Lake Excursurion
Meadow House Observatory (MHO), USA
Great Serpent Effigy Mound
Louisiana Mounds Dataset
Teotihuacan Pyramid, Mexico

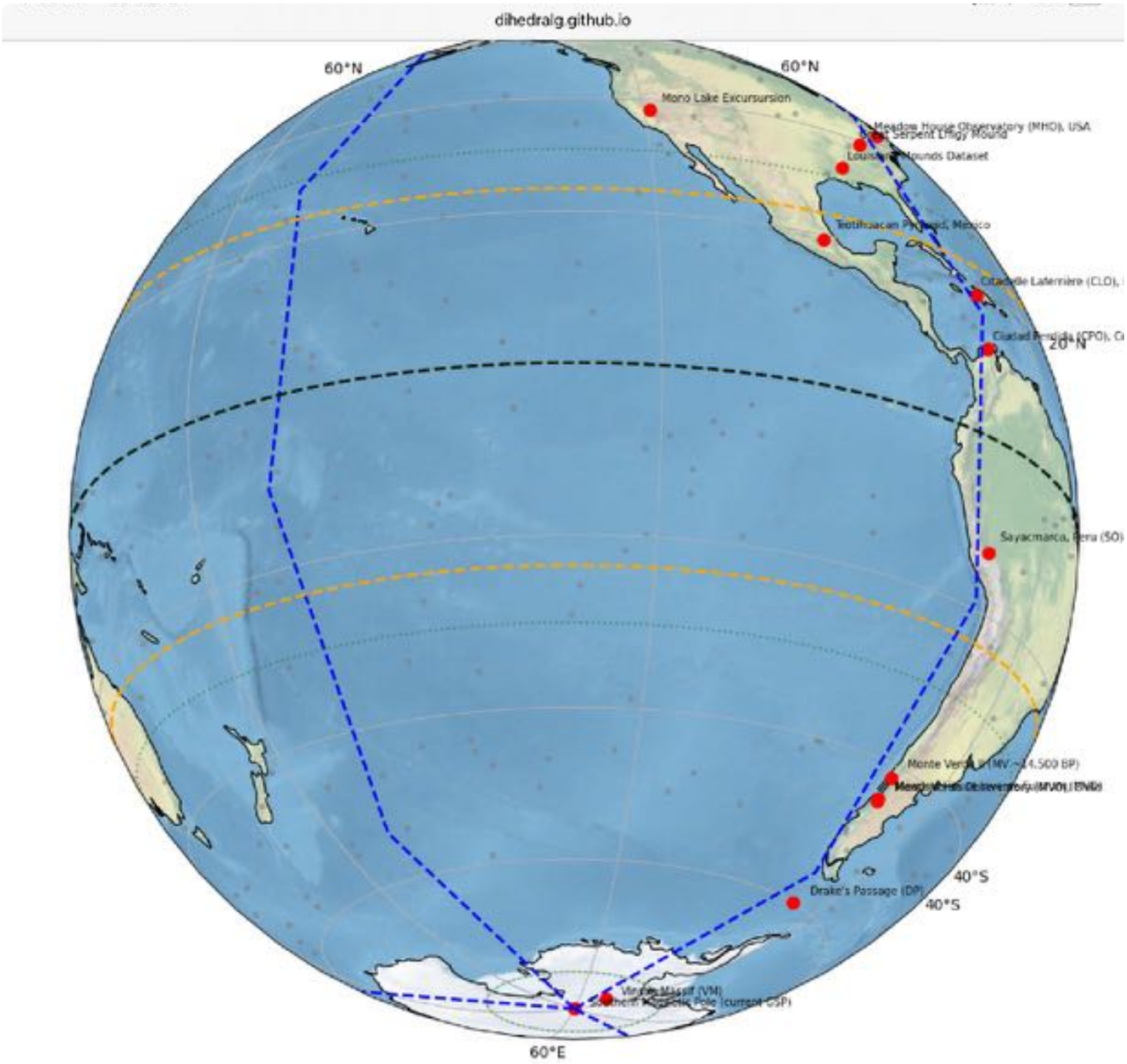
dihedralg.github.io
60°N
60°N
Mono Lake Excursursion
Meadow House Observatory (MHO), USA
Great Serpent Effigy Mound
Teotihuacan Pyramid, Mexico
Citadelle Laferrière (CLO),
20°N
Sayacmarca, Peru (SO)
Monte Verde (MV ~14,500 BP)
40°S
Drake's Passage (DP)
40°S
Western Massif (VM)
Southern Magnetic Pole (current GSP)
60°E

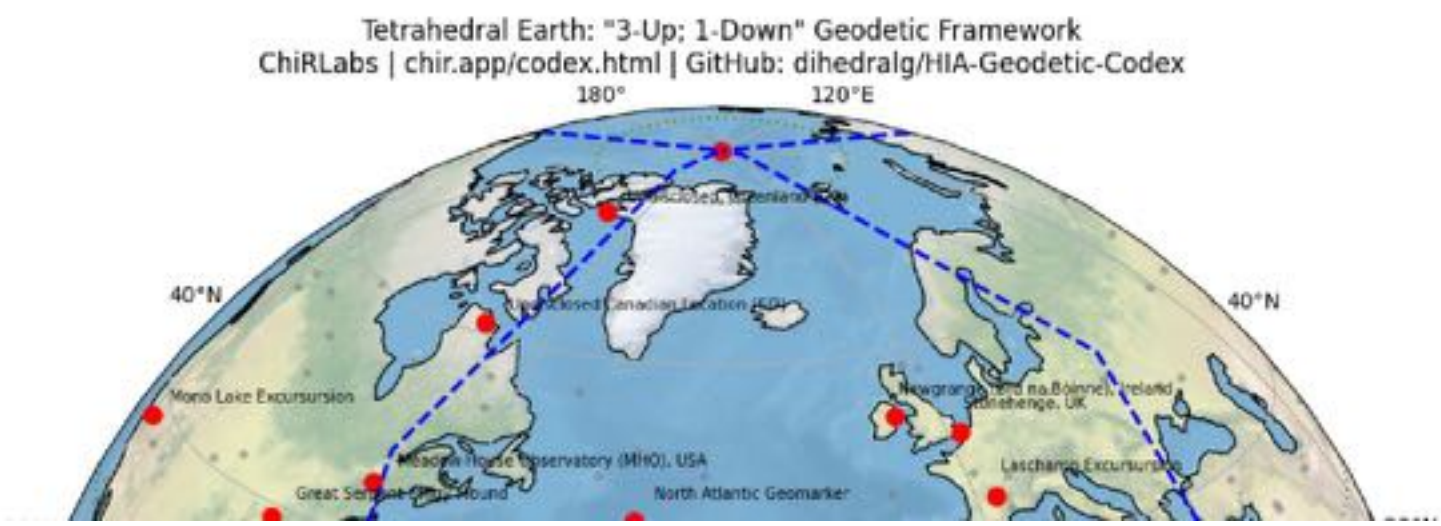
Tetrahedral Earth: "3-Up; 1-Down" Geodetic Framework
ChiRLabs | chir.app/codex.html | GitHub: dihedralg/HIA-Geodetic-Codex
180°
120°E
40°N
40°N
Mono Lake Excursursion
Meadow House Observatory (MHO), USA
Great Serpent Effigy Mound
North Atlantic Geomarker
Newgrange and na Boinne, Ireland
Stonehenge, UK
Lascaux Excursursion

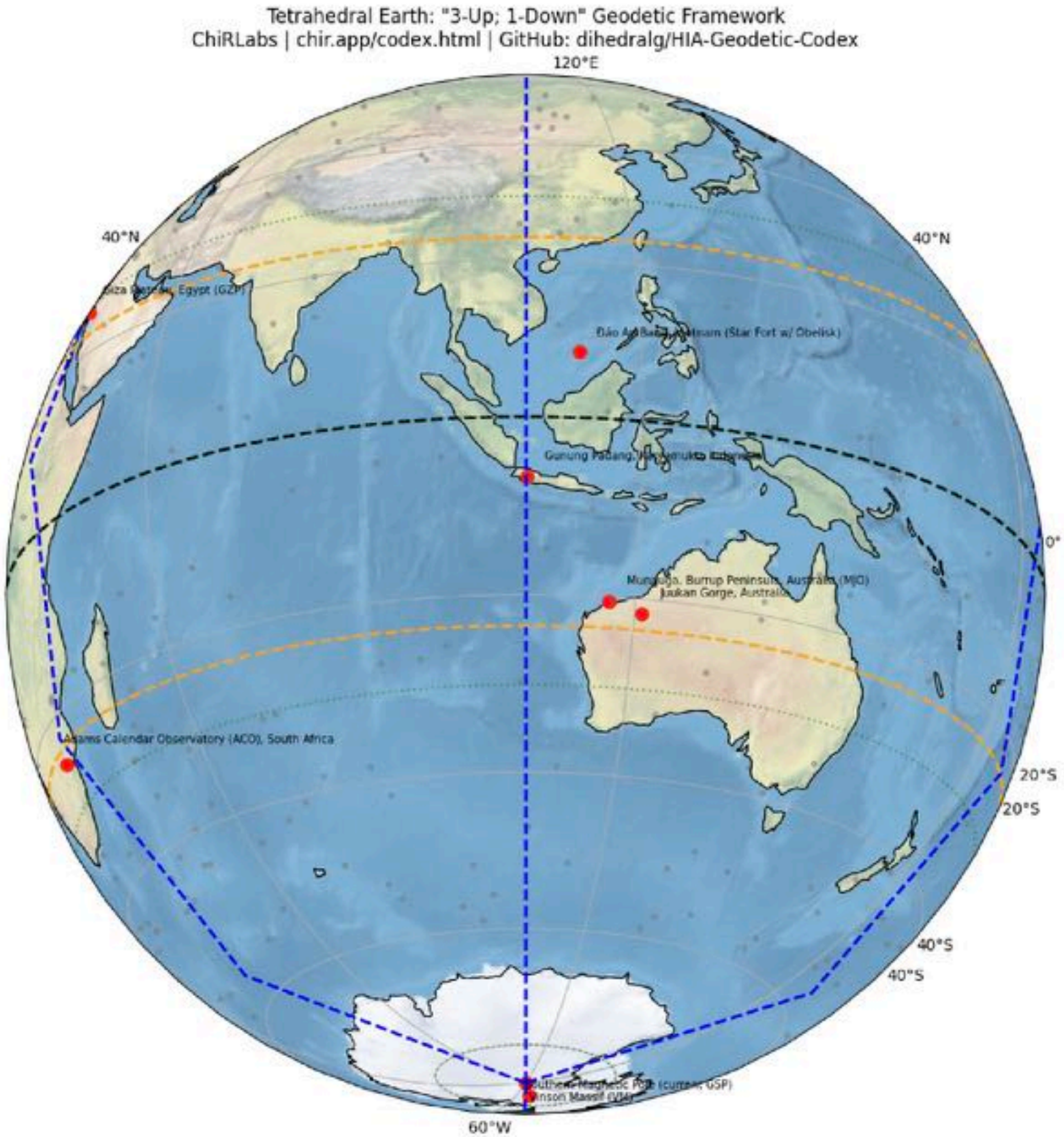
Tetrahedral Earth: "3-Up; 1-Down" Geodetic Framework
ChiRLabs | chir.app/codex.html | GitHub: dihedralg/HIA-Geodetic-Codex
120°E
40°N
40°N
0°
20°S
20°S
40°S
40°S
60°W

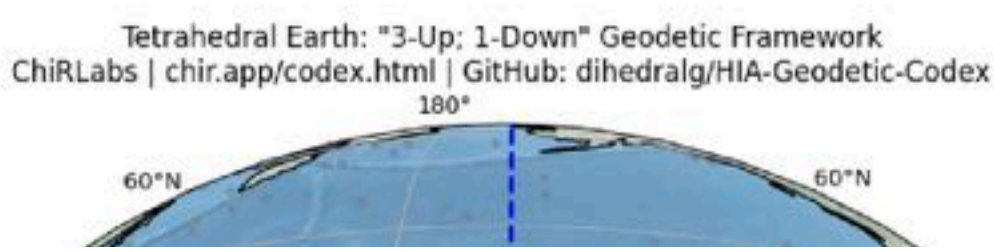
Tetrahedral Earth: "3-Up; 1-Down" Geodetic Framework
ChiRLabs | chir.app/codex.html | GitHub: dihedralg/HIA-Geodetic-Codex
180°
60°N
60°N

Layers 5 & 6 of the Calibration Model

🔷 Codex V5.2 – Field Memory & Piezoelectric Feedback

Quartz-rich strata exhibit frequency memory under tectonic pressure, possibly storing harmonic energy that stabilizes or triggers crustal rebalancing. This module traces architectural material use (e.g., granite and quartzite) to fault-proximal observatories and ceremonial sites, suggesting a field-aware design system in pre-modern civilizations.

- **Key Finding:** Ziggurats and mountaintop altars consistently correlate with quartz-piezoelectric lithologies.
- **Implication for ChiR:** Enables integration of mineralogical signal retention as a variable in predictive modeling.

🔷 Codex V5.3 – Castles, Aqueducts & Resonant Water Logic

This section traces the hydrological design of castles, qanats, and aqueducts to their resonance and phase-control functions. By measuring water velocity, echo chambers, and harmonic reverb potential, we propose these sites served dual defensive and atmospheric tuning roles across both Islamic and European dynasties.

- **Key Finding:** Similar phase-locked distances found in Incan and Persian systems suggest convergent hydrologic architecture.
- **Implication for ChiR:** Forms basis of resonance-indexed aquifer and flood buffer simulations.

🔷 Codex V5.4 – Glacial Mechanics & Cryogenic Harmonics

Glacial mass, flow rate, and lithospheric torque are reinterpreted through harmonic mechanics. This module outlines how subglacial lakes, crevasse flows, and basal slip planes operate as sound-driven displacement engines. Glacial tempo matches core ChiRhombant units when time-normalized by orbital phase constants.

- **Key Finding:** Greenland and Antarctic ice shelf data show frequency lock-in zones tied to glacial dam breach events.
- **Implication for ChiR:** Opens glacial modeling tools for resonance prediction and outburst flood potential forecasting.

🔷 Codex V5.5 – Planetary Terraforming & Polyhedral Portability

This module expands Codex logic to extraterrestrial environments. We model how georesonant polyhedra scale across planetary bodies with differing gravity, crustal elasticity, and phase-state water volumes. Martian lava tubes and icy Jovian moons offer key testbeds for geodetic transfer protocols. This work proposes a terraforming roadmap grounded in acoustic and hydrological symmetry principles.

- **Key Finding:** Dodecahedral elastic models retain coherent node logic when scaled to exoplanets with varying geoid compression.
- **Implication for ChiR:** Seeds next-gen logic for harmonic infrastructure on other worlds.

🔷 Codex V5.6 – Harmonic AI Systems & Fractal Synchronization

This module explores how harmonic feedback principles—drawn from planetary resonance, orbital cycles, and hydrological pulse rhythms—can be embedded into AI design. By structuring AI logic gates around phase-locked loops, synchronization cues, and real-time resonance tracking (e.g., via EM fluctuations, solar cycles, or atmospheric Schumann harmonics), we propose a model for harmonic intelligence that mirrors planetary coherence patterns. This offers an alternative to data-maximizing AI by emphasizing phase congruence, signal integrity, and rhythmic feedback.

🌀 Geodetic Codex – Version 6: Conscious Planetary Memory Systems

The Version 5 release of the Geodetic Codex previously introduces 7 modular expansion layers that form a functional specification for planetary intelligence modeling — integrating plasma, resonance & advanced hydrology into an operating system of Earth.

📘 Geodetic Codex V5 – Plasma, Resonance & Advanced Hydrology

Our current work transitions into Version 5.0+, where planetary logic extends into energy grid design, subterranean networks, and living geotechnical systems. Highlights include:

- **5.1 – Earth Grid Inversion--** *Plasma Fields & Resonant Magnetohydrodynamics*
- **5.2 – Underground Transport & Tunneling--** *Field Memory & Piezoelectric Feedback*
- **5.3 – Subterranean Memory Systems--** *Castles, Aqueducts & Resonant Water Logic*
- **5.4 – Megalithic Infrastructure & Fiber Geometry--** *Glacial Mechanics & Cryogenic Harmonics*
- **5.5 – Continental Ice Lock Failures--** *Planetary Terraforming & Polyhedral Portability*
- **5.6 – Harmonic AI Systems--**
- **5.7 – Resonant Planetary Ethics--**

🔷 V6.1 – Crystal Logic & Planetary Substrates

Summary:

This section explores the deep-time intelligence of Earth's crystalline substrates—how quartz, lithium, and silica not only stabilize tectonic regions but may also serve as long-memory scaffolds for resonant information storage. It proposes that ancient humans were aware of geologic conductivity, selecting site locations based on stress-discharge, piezoelectric resonance, and biofield compatibility.

Key Concepts:

- Quartz-based geologies (e.g., Andes, Alps, Appalachians) provide a piezoelectric foundation that naturally amplifies long-wave frequencies under pressure.
- Silica saturation in high-altitude or ancient riverbed regions may increase ELF receptivity and biological tuning.
- Lithium-bearing zones act as resonance stabilizers—"natural batteries" in geodetic alignments.
- Crystalline density and fractal layering (e.g., schist, gneiss, granite) influence long-term tectonic vibration memory.
- Templated "resonant layouts" (ziggurats, altars, causeways) may have mirrored crystalline lattice arrangements to enhance harmonic stability.

Examples & Anchors:

- Altiplano: Lithium triangle + high-altitude quartz = memory-rich substrate.
- Alpine quartz caves: Cavern systems exhibiting resonant echoes and frequency amplification.
- Meadow House + Worcester Schist Ridges: Folded quartzites and serpentine minerals offer both sonic and geomagnetic grounding.
- Lake Titicaca region: High silica + phase change water memory zone.

Codex Model Tie-In:

These crystalline zones appear to correlate with major geodetic Codex nodes and often anchor trihedral

These crystalline zones appear to correlate with major geodetic Codex nodes and often anchor trihedral faces with azimuthal symmetry. Their consistent mineralogical resonance suggests that "site selection" in antiquity may have been frequency-based, not just celestial or visual.

ChiR constant ($G = v \cdot h^2$) applies here, where:

- v = azimuthal vector rate (e.g., tectonic drift, solar wind interaction)
- h^2 = local geologic harmonic (mineral + elevation + hydrology)
- → Resulting in a site-based cognitive coherence index, used in future Codex modeling.

🔷 V6.2 – EEG Resonance & Biofield Harmonics

Summary:

Section 6.2 introduces the idea that Earth functions as a distributed EEG system—where the geomagnetic field, telluric current structures, and ELF/VLF bandwidths can interface with human neuroelectrical states. It posits that certain locations on Earth act as "biofield ports" where coherence is easier to attain and maintain, especially for collective cognition or healing purposes.

Key Concepts:

- ELF (Extremely Low Frequency) and VLF (Very Low Frequency) anomalies are often found near ancient observatories and crystalline fault zones.
- These frequencies mirror those of brainwave states (0.5–30 Hz), suggesting possible entrainment or biofield coupling.
- Stone and crystalline substrates can amplify EEG resonance, especially where quartz + water + fault tension coincide.
- Ancient temples may have been built to enhance coherence across theta and alpha ranges (4–12 Hz).
- Cognitive resonance ports may emerge where geomagnetic lines intersect with high piezo or hydrological memory sites.

Example Sites:

- Meadow House Observatory (Vermont): ELF anomalies observed at 7.8 Hz (Schumann proximity) and a double node intersection of bedrock fracture zones with elevated quartz concentration and buried amphitheater acoustics.
- Monte Verde-Sur (Chile): Longwave coherence from glacial bedrock, deep sediment water memory, and structural trihedral stone clusters.
- Goseck Circle (Germany) & Nabta Playa (Egypt): Aligned to both solar and ELF magnetic transitions—possibly for seasonal EEG synchronization.

Supplemental Data Summary:

- Greenland's ELF data from Summit Station shows rare longwave anomalies during magnetic quiet periods (source: NOAA Polar Year records).
- Antarctica's VLF transmitters (e.g., Palmer Station) detect ultra-stable ionospheric windows, which may explain site patterning near Lake Vostok.
- Sites with piezo + hydrology + tectonic fault lines consistently align with neurofield resonance theory zones.

Codex Integration:

- EEG and planetary coherence are modeled via the ChiR constant:
- $G = v \cdot h^2$, where:
- v = azimuthal vector rate (e.g., magnetic drift, solar wind interaction)
- h^2 = local geologic harmonic (mineral + elevation + hydrology)
- → Resulting in a site-based cognitive coherence index, used in future Codex modeling.

🔷 V6.3 – Conscious Infrastructure & Memory Systems

Summary:

This section reframes megalithic and temple architecture as biofeedback systems—tools not only of ceremony but of collective memory encoding and biological resonance tuning. It proposes that certain structures were designed to stabilize regional biofields, encode historic or sacred rhythms, and act as geomagnetic anchors during times of planetary flux.

Key Concepts:

- Architecture as conscious imprinting tool: shape, orientation, and material amplify specific wave types (acoustic, telluric, photonic).
- Stone resonance chambers mimic neural phase entrainment—especially those with trihedral or vaulted geometries.
- "Memory conductivity" is determined by mineral structure, crystal alignment, and electroacoustic feedback (e.g., echo time signatures).
- Lithium metaphor: just as batteries store energy, ancient structures stored intent, rhythm, and coherent social signals.
- Structures are not just shelters—they are phase mirrors of the planetary EEG.

Examples:

- Mnajdra Temples (Malta): Solstice-lit chambers with stone acoustic shells and orientation matched to ELF sunrise phase.
- Temple of the Moon (Peru): Cavernous stone amphitheaters with quartz-lined overhangs and water drip acoustics.
- Gobekli Tepe (Turkey): T-stones as standing harmonic rods, with radial spacing indicating rotational synchronization.

Implications:

- Megaliths may serve as temporal stabilizers, encoding resilience memory into regional geomagnetic networks.
- Collapse or burial of these systems may correspond to energetic entropy or intentional memory suppression post-cataclysm.
- The consciousness network was never metaphor—it was architecture as cognition loop.
- **Codex Transition Note:** This module directly seeds Version 7 (Ethical Constructs & Planetary Memory) by asserting that ancient infrastructure encoded intent. These intent-saturated zones demand ethical stewardship and reinterpretation.

- V6.4 – Litho-Photonic Memory Systems
- V6.5 – Faultline Consciousness
- V6.6 – The Sonic Archive
- V6.7 – Subterranean Memory Systems

📡 Integration Roadmap – V6 to V7 and Beyond

Forthcoming...

🔭 What's Next: Versions 7 Through 13

- **V07- Harmonic Infrastructure & Civilization Templates--** *Model civilizational uplift through energy-resonant construction and memory optimization*
- **V08- Collapse, Rebirth, & Tuning Events--** *Document past and potential future harmonic reset events*
- **V09- Tectonic Resonance & Celestial Mechanics--** *Explore orbital forcing, crustal lockstep, and solar-*

dilledraig.github.io

Earth's Memory Technologies — Method Matrix

Method / Archive	Material	Resolution	Codex Outcomes
Dendrochronology	Tree rings	Annual–millennial	Drought/flood frequency; volcanic aerosol signals
Varve analysis	Lake sediments	Annual–10 kyr	Meltwater pulse timing; seasonal shifts
Ice-core isotopes	Polar/glacial ice	Annual–800 kyr	T/CO_2; tephra; impact ejecta layers
Speleothem $\delta^{18}O$/δD	Cave calcite	Decadal–500 kyr	Precipitation/monsoon reconstructions
Coral banding	Reef corals	Annual–centuries	SST & salinity variability
Loess / aeolian	Wind-blown silt	Decadal–Myr	Dust flux; aridity cycles
Rb–Sr / Sm–Nd / U–Pb	Crustal minerals	Myr–Gyr	Orogeny & uplift timing; crust–mantle mixing
^{14}C	Organics	Up to 50 kyr	Event dating for cultural/ecosystem layers
Tephrochronology	Volcanic ash	Annual–Myr	Eruption correlation horizons

These archives are layered and projected onto the geodetic network to produce a temporal–spatial resonance map.

Three-Tier Star Fort Framework

Tier	Elevation Context	Example Sites	Codex Interpretation
High	Above paleolake/glacial maximum shorelines; alpine & paleo-shore observatories	Meadow House Observatory (USA), alpine castles	Ice-locked hydrological control; high-alt/lat weather routing nodes
Mid	Coastal/riverine under interglacial sea levels	Fort Jacques (Haiti), European coastal forts	Dynamic-flow control between melt influx & ocean discharge
Low	Fully submerged; bathymetry + coastal geomorphology	Predictive targets: Caribbean, Mediterranean, SE Asia	Deepwater harmonic nodes — submarine archaeology frontier

Three-Tier Star Fort Framework

High Tier

Above paleolake/glacial maximum shorelines
(e.g., alpine castles, Meadow House Observatory)

Codex Role: ice-locked hydrological control points; Observational nodes for high-latitude/altitude weather routing

Mid Tier

Coastal or riverine under interglacial sea levels
(e.g., Fort Jacques, colonial coastal forts)

Codex Role: Dynamic-flow control between melt influx & ocean discharge

Low Tier

Fully submerged, located via bathymetry & geomorphology
(predictive targets in Caribbean, Mediterranean, SE Asia)

Codex Role: Deepwater harmonic nodes; potential submarine archaeology frontier

star-fort-details....